Mission Report

113706_250828_p1 (lauv-fridtjof)

Executed on Thu Aug 28 13:37:06 CEST 2025

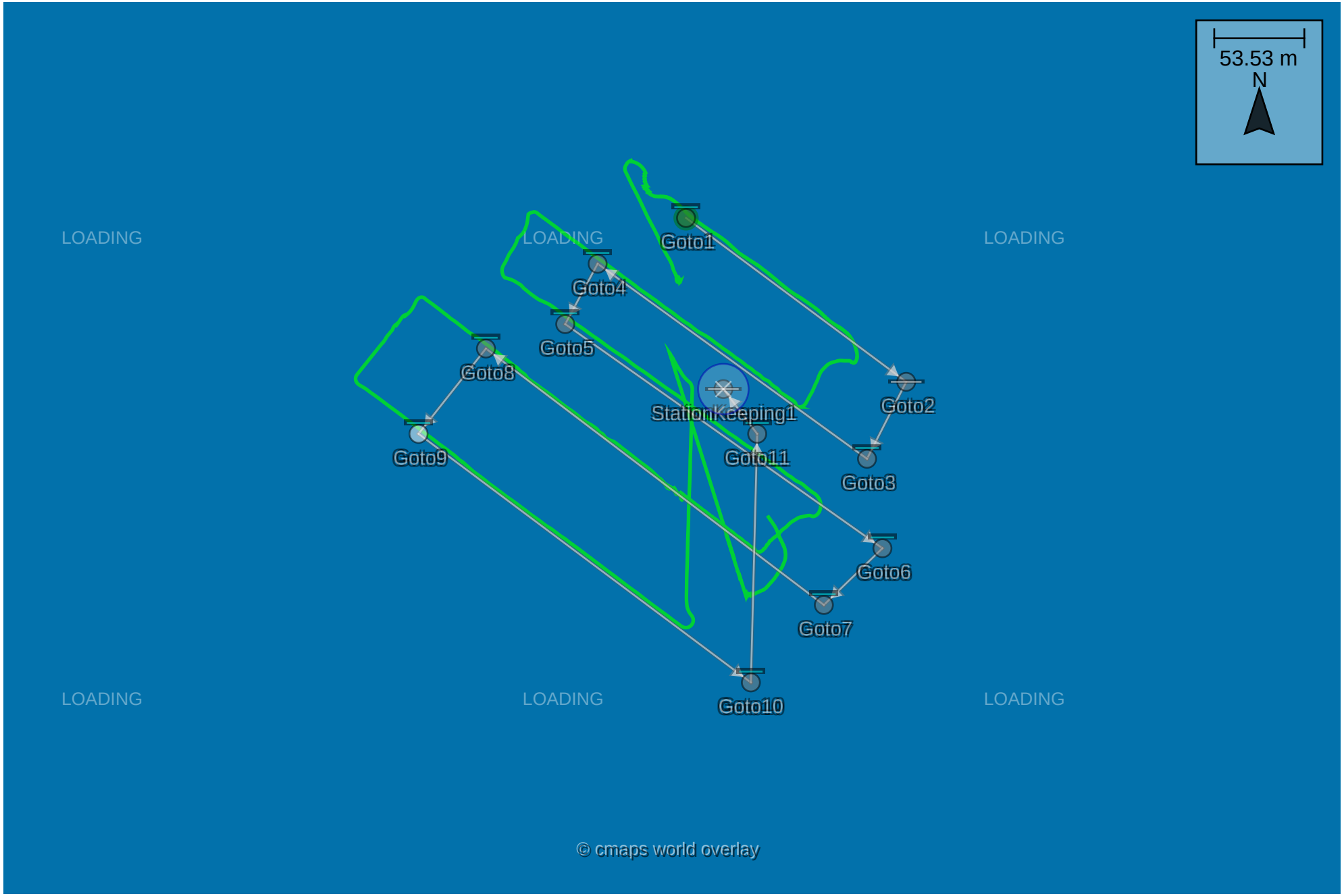
53.53 m
N
LOADING
LOADING
LOADING
Goto1
Goto4
Goto5
Goto8
StationKeeping1
Goto2
Goto9
Goto11
Goto3
Goto6
Goto7
Goto10
LOADING
LOADING
LOADING
© cmaps world overlay

Bathymetry plot

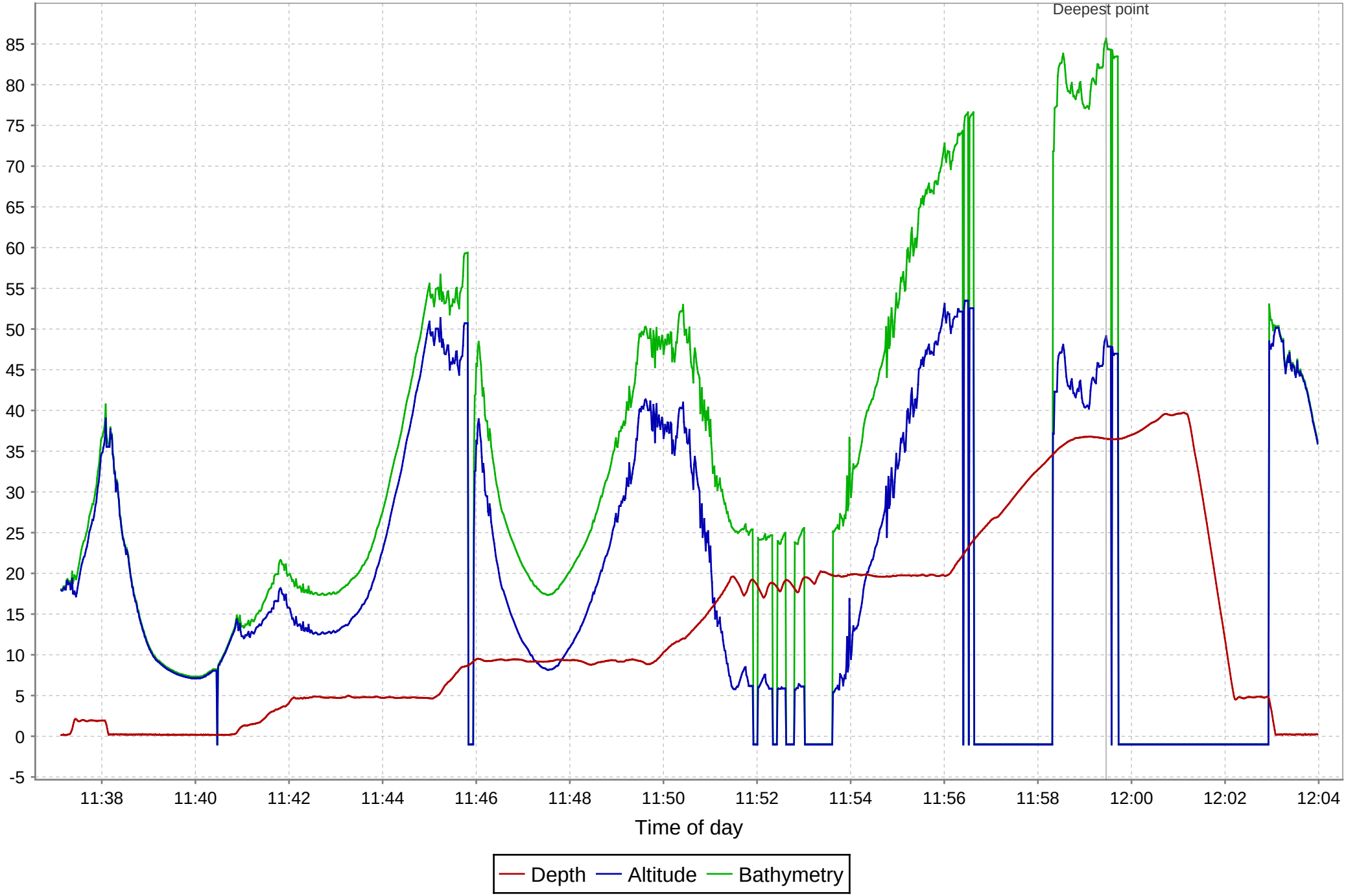

Drift Speed plot

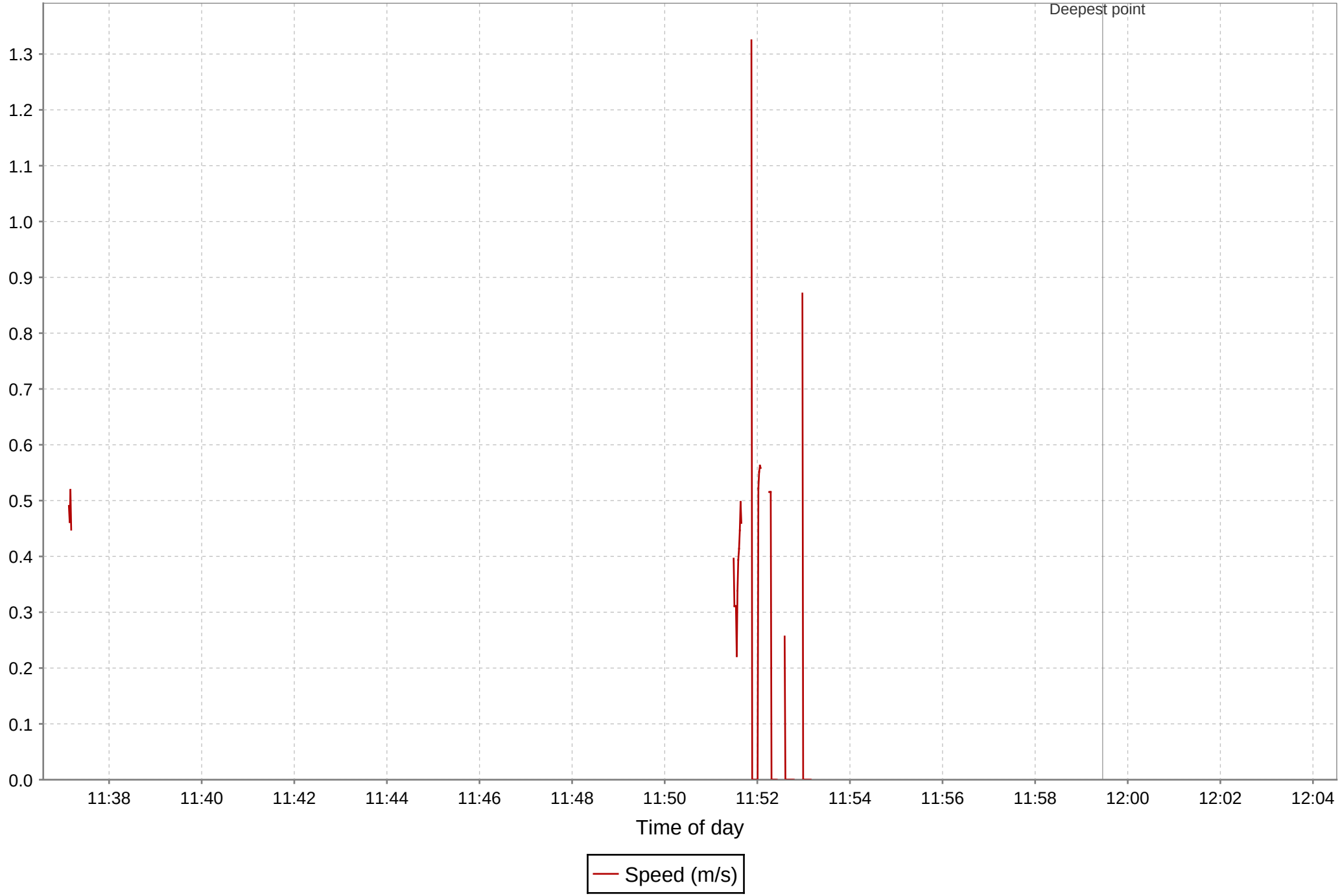

Power (W) plot

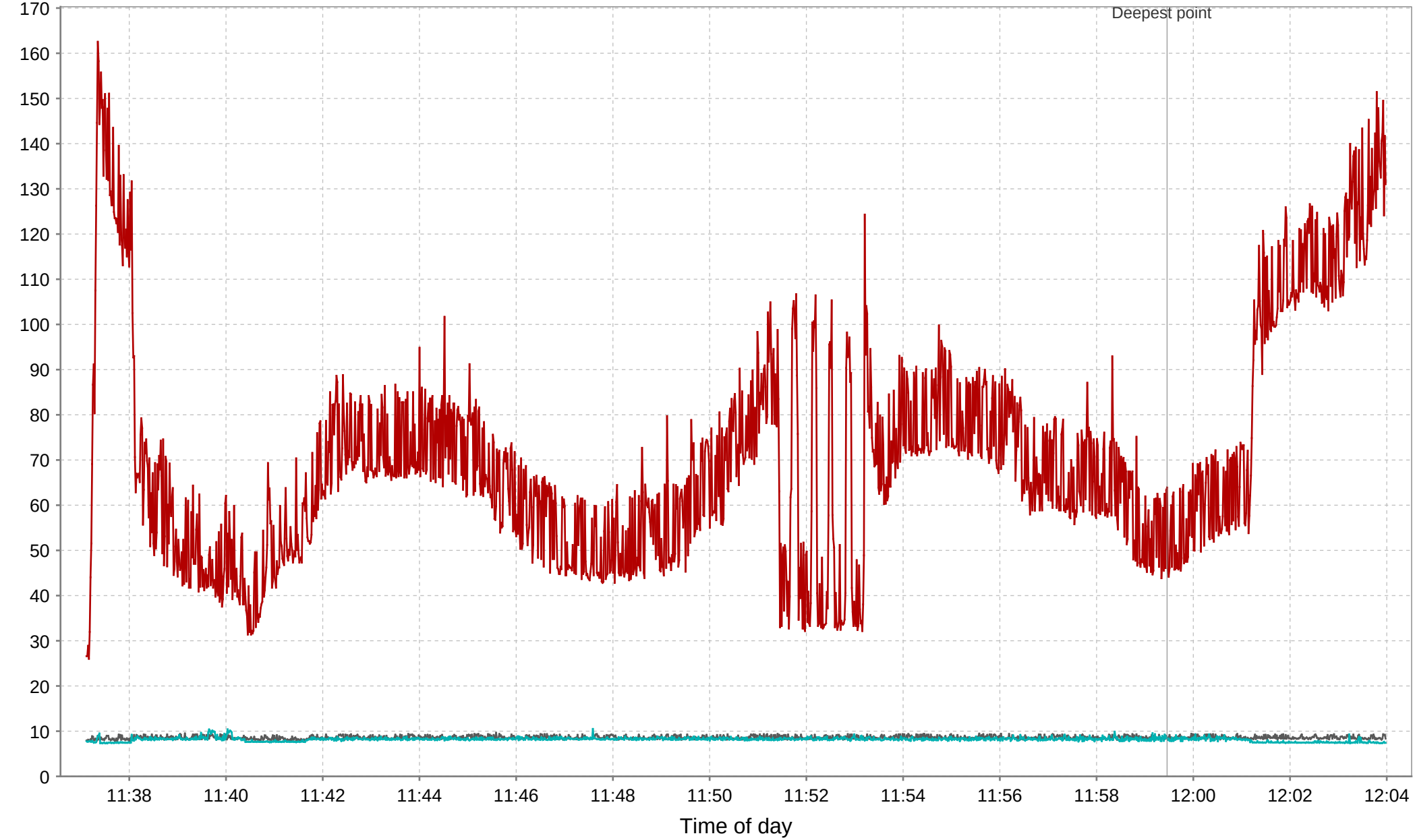
Deepest point
170
160
150
140
130
120
110
100
90
80
70
60
50
40
30
20
10
0
11:38
11:40
11:42
11:44
11:46
11:48
11:50
11:52
11:54
11:56
11:58
12:00
12:02
12:04
Time of day
Batteries
Power Supply (All)
Power Supply (Tail)
Power Supply (Payload)
Power Supply (+12VDC)
Power Supply (+5VDC)
Pegasus Motor
Pegasus Servo 0
Pegasus Servo 1
Pegasus Servo 2
Pegasus Servo 3
Pegasus Servos (All)

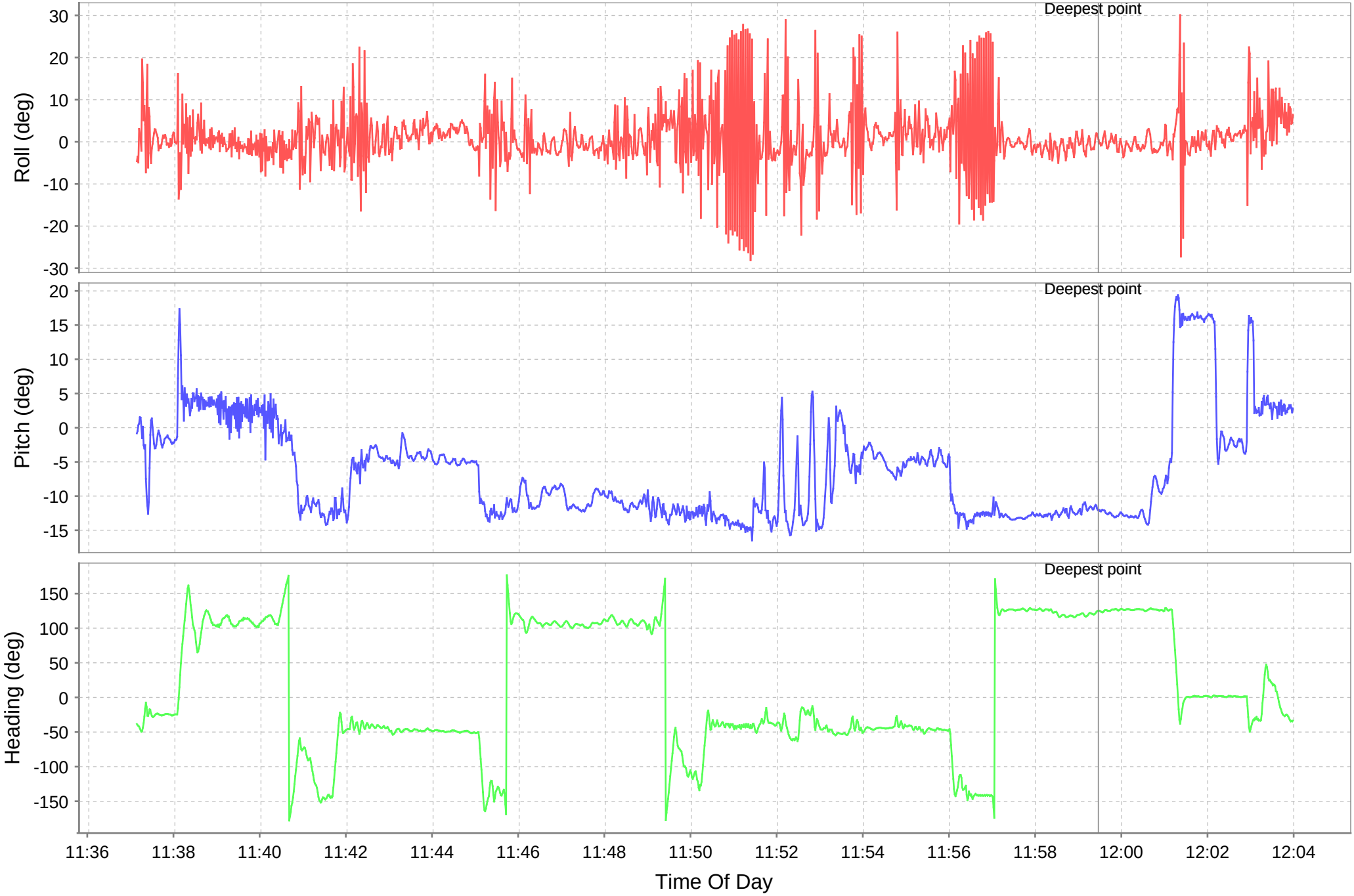
Deepest point
Roll (deg)
30
20
10
0
-10
-20
-30
Deepest point
Pitch (deg)
20
15
10
5
0
-5
-10
-15
Deepest point
Heading (deg)
150
100
50
0
-50
-100
-150
11:36
11:38
11:40
11:42
11:44
11:46
11:48
11:50
11:52
11:54
11:56
11:58
12:00
12:02
12:04
Time Of Day
Roll (deg).lauv-fridtjof
Pitch (deg).lauv-fridtjof
Heading (deg).lauv-fridtjof

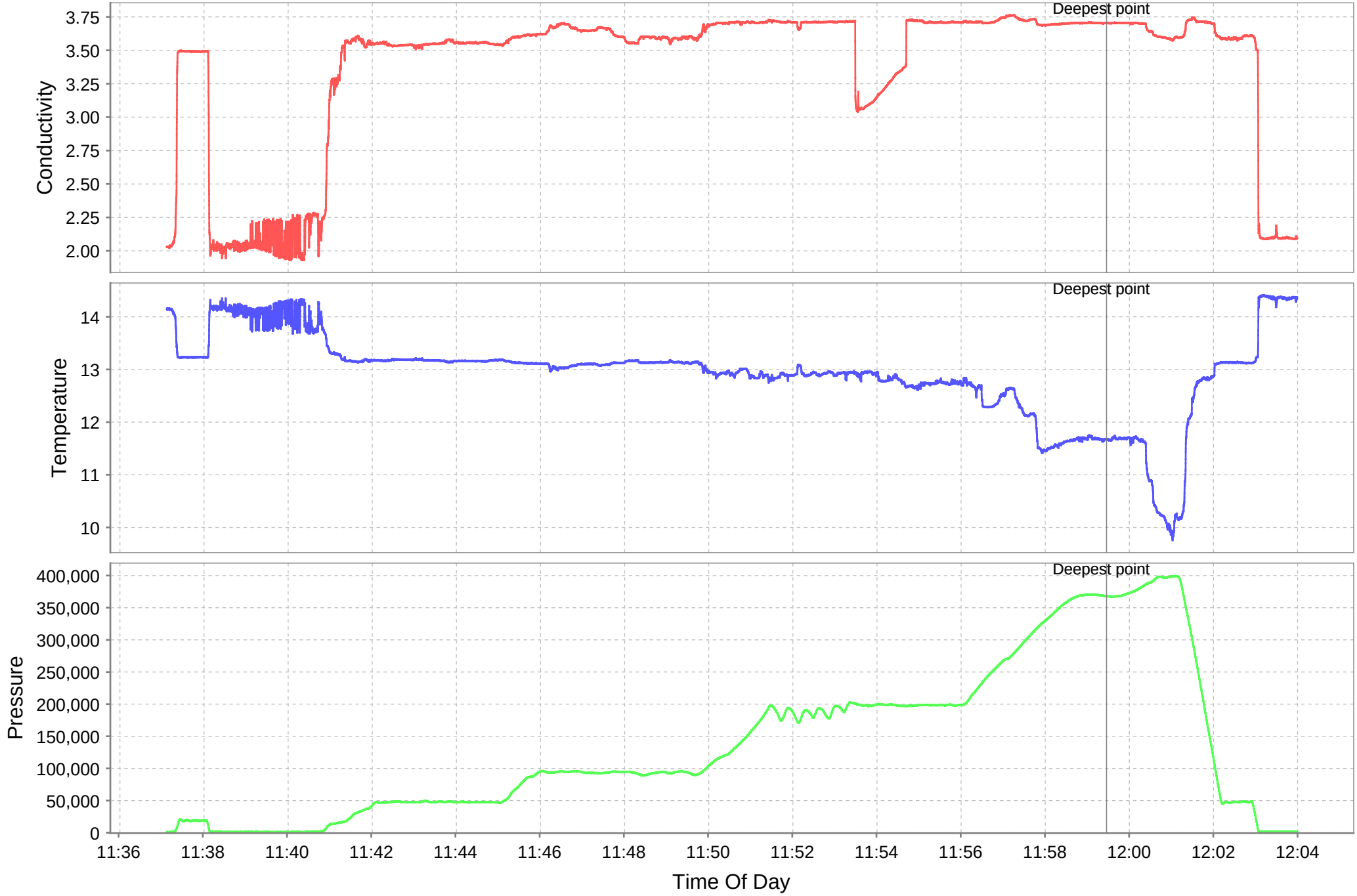
Deepest point
Conductivity
3.75
3.50
3.25
3.00
2.75
2.50
2.25
2.00
Deepest point
Temperature
14
13
12
11
10
Deepest point
Pressure
400,000
350,000
300,000
250,000
200,000
150,000
100,000
50,000
0
11:36
11:38
11:40
11:42
11:44
11:46
11:48
11:50
11:52
11:54
11:56
11:58
12:00
12:02
12:04
Time Of Day
Conductivity.lauv-fridtjof
Temperature.lauv-fridtjof
Pressure.lauv-fridtjof

Vehicle Timeline plot

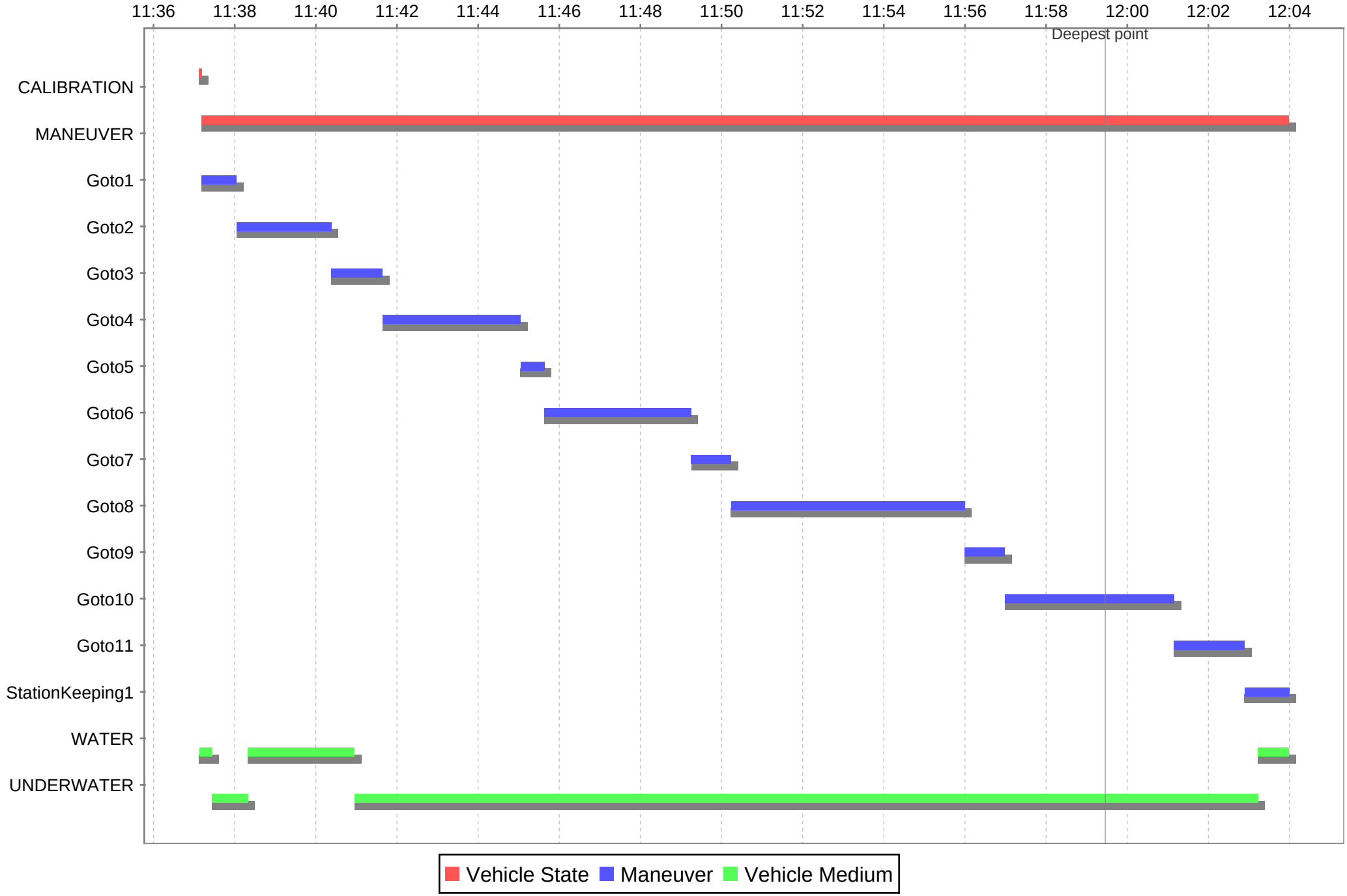

Corrected position plot

plot: [SonarData.min_range]

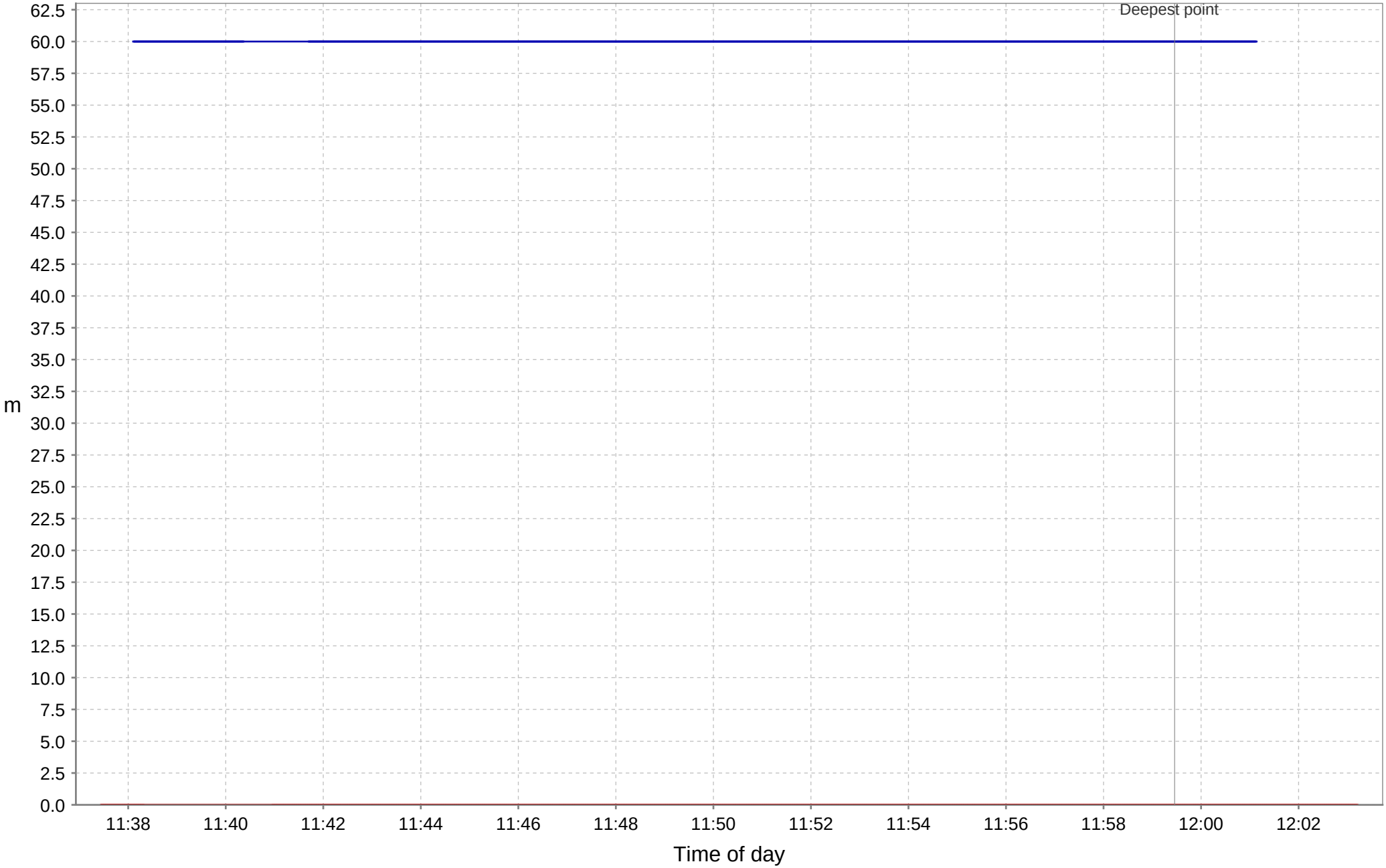

Standard Marks

Timestamp	Label	Location
11:59:27.470	Deepest point	63N22.127 10E4.0436

Mission Statistics

Vehicle:	lauv-fridtjof
Mission start time:	Thu Aug 28 13:37:06 CEST 2025
Mission end time:	Thu Aug 28 14:03:59 CEST 2025
Mission duration:	26m 52s
Depth maximum:	39.73 m
Depth average:	13.71 m
Roll min/max/amp/avg:	-29.36° / 34.41° / 63.77° / 0.90°
Pitch min/max/amp/avg:	-16.86° / 19.39° / 36.25° / -6.40°
Lost pulses:	0
Duplicated pulses:	0
Number of Brakes:	5
Distance travelled:	1730.81 m
Mean speed:	1.07 m/s
Home Latitude:	63N22'10.7658"
Home Longitude:	10E3'8.0112"
Sidescan 1 shots:	10288
Sidescan 1 pixels per line:	2000
Sidescan 1 range:	60.0
idescan 1 cross-track resolution:	16.666666666666668
idescan 1 along-track resolution:	8.237937277930207